Spatial Estimates of SWE for the Rio Grande Basin

May 27, 2025

Max Gersh[1], Logan Stephenson[2], Ross Palomaki[2], and Karl Rittger[2]
[1] New Mexico Office of the State Engineer (NM OSE) Hydrology Bureau
[2] Institute of Arctic and Alpine Research (INSTAAR), University of Colorado Boulder
Work funded by: NASA Western Water Applications Office (WWAO)
Contact: Max.Gersh@ose.nm.gov

Overview Map – Rio Grande Basin Study Area

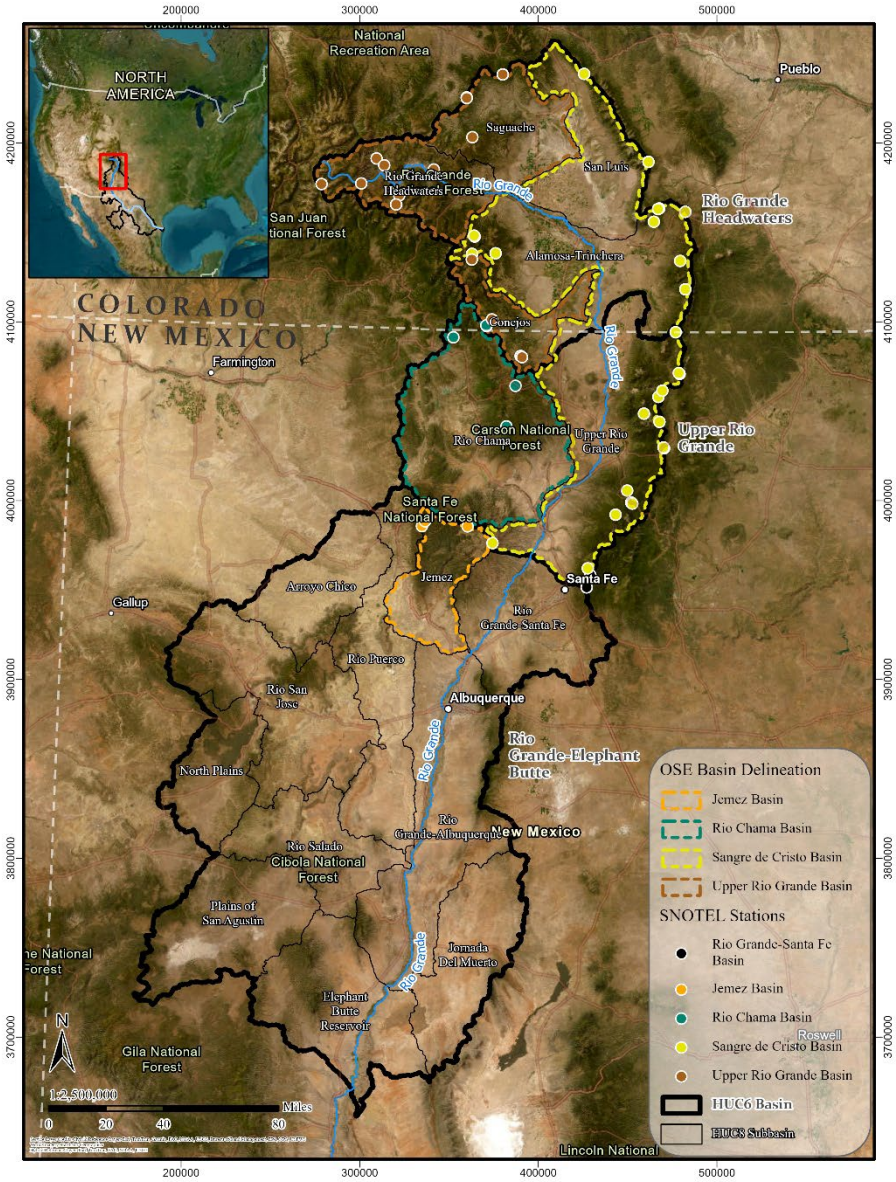

Figure 1. Overview map of the Rio Grande (RG) Basin study area. *The Rio Grande Headwaters, Upper Rio Grande, and Rio Grande-Elephant Butte Basins are presented as the standard HUC6 basins. HUC8 groupings (Jemez – orange, Rio Chama – green, Sangre de Cristo – yellow, and Upper Rio Grande – brown) are symbolized.*

Summary of SNODAS SWE for May 27, 2025

- Spatial estimates of snow water equivalent (SWE) and change in SWE (presented in inches) for the Rio Grande (RG) Basin study area are presented in Figure 2.
- Spring snowmelt persisted throughout the Rio Grande Basin study area, resulting in a decrease in SWE in all three HUC6 Basins since the last report (May 20, 2025).
    - Rapid snowmelt was detected in all HUC8 subbasins and across all elevation bands, with the remaining snow being present above 10,000' throughout the RG Basin study area.
    - Little to no snow remains in the Rio Grande-Elephant Butte HUC6 Basin.
- **Table 1**: Estimated SWE amount (median and mean in inches (in)), estimated volume (acre-feet (af)), and change in volume (af) since the last report, are shown for the standard Hydrologic Unit Code 6 (HUC6) basins (Rio Grande Headwaters (Figure 3), Upper Rio Grande (Figure 4), and Rio Grande-Elephant Butte (Figure 5)).
- **Table 2**: Estimated SWE amount (median and mean (in)), estimated volume (af), and change in volume (af) since the last report, are shown for the specific HUC8 subbasin groupings (OSE Basin Delineations shown in Figure 1; Upper Rio Grande, Rio Chama, Sangre de Cristo, and Jemez).
- **Table 3**: Estimated SWE amount (median and mean (in)), estimated volume (af), and change in volume (af) since the last report, are shown by basin and elevation band for the HUC6 basins (Rio Grande Headwaters (Figure 3), Upper Rio Grande (Figure 4), and Rio Grande-Elephant Butte (Figure 5)).
- **Rio Grande Headwaters (HUC6)**: SNODAS SWE volume for May 27, 2025, is estimated to be 10,763 af, a decrease of an estimated 61,184 af from May 20, 2025.
- **Upper Rio Grande (HUC6)**: SNODAS SWE volume for May 27, 2025, is estimated to be 21,196 af, a decrease of an estimated 30,525 af from May 20, 2025.
- **Rio Grande-Elephant Butte (HUC6)**: SNODAS SWE volume for May 27, 2025, is estimated to be 9 af, a decrease of an estimated 221 af from May 20, 2025.

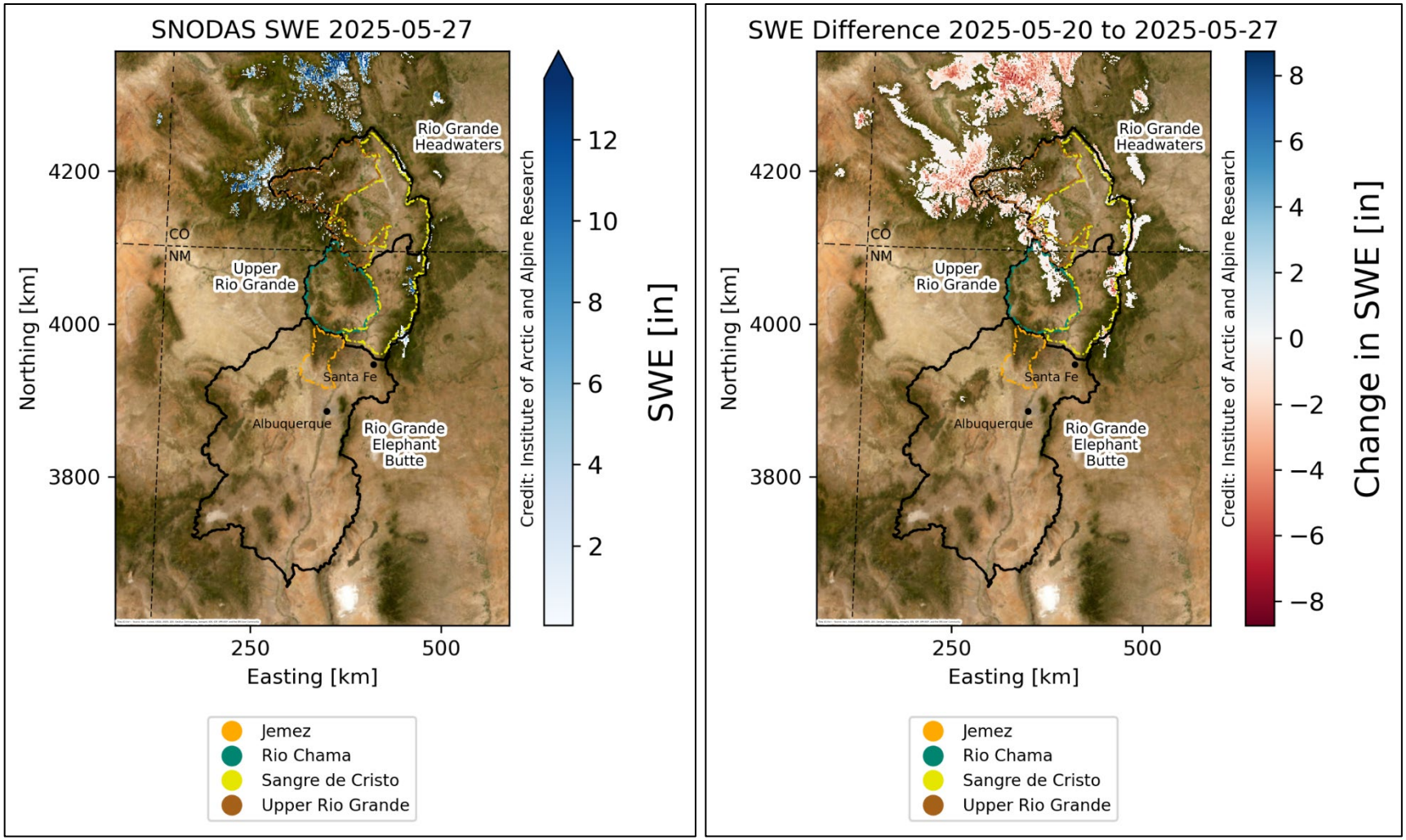

Figure 2. Estimated SNODAS SWE and Change in SNODAS SWE across the Rio Grande Basin study area. *SWE amounts (in) across the RG Basin study area for May 27, 2025 (left); dark blue pixels denote greater SWE amounts. Change in SNODAS SWE amounts (in) across the RG Basin study area from May 20, 2025, to May 27, 2025 (right); blue pixels denote an increase in SWE amounts whereas red pixels denote a decrease in SWE amounts.*

Introduction

The Rio Grande (RG) is a snowmelt-driven river system with up to 75% of its water originating from seasonal snowpack in the mountains of Colorado and northern New Mexico (Moeser et al., 2021; Figure 2). Snowpack acts as a natural reservoir in the RG Basin, gradually releasing meltwater during the spring and early summer months, sustaining streamflow and providing vital water supply for downstream users. However, regional decreases in snowpack volume and earlier snowmelt timing, especially throughout the western U.S. and New Mexico, can lead to reduced water availability (Mote et al., 2005; EPA, 2016b; Mote et al., 2018; Hale et al., 2023). Long-term changes in snowpack patterns and timing can serve as an indicator of climate change, while understanding short-term changes is critical for monitoring seasonal variability and forecasting seasonal water supply. Monitoring snowpack provides valuable data on shifts in precipitation patterns and temperatures, helping scientists and decision-makers better understand and manage climate-related challenges.

Snow water equivalent (SWE) is the estimate of the depth of liquid water contained in the snowpack. SWE is the standard metric in estimating the volume of meltwater in the snowpack, which plays a critical role in the seasonal snow water supply in the RG Basin. SWE is measured at in-situ Snow Telemetry (SNOTEL) sites throughout the RG Basin and the greater Western U.S. However, the spatial distribution of SWE is complex and often difficult to estimate outside of the in-situ SNOTEL measurements. While SNOTEL provides important point-based measurements, it has been suggested that these data may not be representative of the surrounding snow-covered area (Meromy et al., 2013). Whereas regional tendencies of spatial distribution are consistent, local snowpack volumes are more variable, all of which influences the magnitude and timing of snowmelt-driven runoff.

SWE Analysis Tool

The RG Basin, and more broadly the Western U.S., is experiencing a prolonged and severe drought (EPA, 2016a), exacerbated by a warming climate that increases evapotranspiration, reduces overall snowpack quantity, and reduces the seasonal duration of snowpack. The application of the SWE Analysis Tool (SWEAT) will supply scientists and decision-makers with an improved insight into the spatial distribution of SWE by providing real-time spatial SWE estimates for the RG Basin, its subbasins, and elevation bands within the basin.

Currently, SWEAT incorporates the SNODAS gridded SWE data product (NOHRSC, 2004). Because no spaceborne sensor can directly measure SWE, spatial distribution of SWE must be estimated from remotely sensed observations coupled with modeling approaches. However, gridded SWE products, like SNODAS, are known to have accuracy issues across both mountainous and non-mountainous regions (Mudryk et al., 2025), resulting in a range of spatial SWE estimates for any given location. NM OSE and INSTAAR are working to integrate more data products to build SWEAT based on an ensemble of spatially estimated SWE. By taking an ensemble approach, the goal for SWEAT is to provide spatial SWE estimations for the RG Basin that are, on average, equally or more accurate than any individual model (Thompson, 1977; Arsenault et al., 2015). In addition, the use of a single estimate calculated from an ensemble can reduce confusion for water managers about which product may be performing best, providing a path towards consistency throughout users, and is useful in identifying product outliers.

SNODAS

The SNOw Data Assimilation System (SNODAS) represents a modeling and data assimilation system developed by the National Operational Hydrologic Remote Sensing Center (NOHRSC). SNODAS generates spatial estimates of SWE, snow cover, and snow depth through a combination of remotely sensed snow data and in-situ measurements of SWE from SNOTEL at a 1-km spatial resolution and 24-hour temporal resolution.

The national SNODAS dataset is available through the SNODAS Data Products at National Snow and Ice Data Center (NSIDC), Version 1 (NOHRSC, 2004). SNODAS data can be viewed at the NOHRSC Interactive Snow Information page. Gridded observed snowfall images, seasonal totals, and data downloads in several formats can be found on the National Gridded Snowfall Analysis page.

Refer to the SNODAS User Guide and the NSIDC Special Report 11 (Barrett, 2003) for more information.

Discussion

Figures and tables for the identified basins (Figure 1) are presented below. The median and mean SWE (in) is presented to avoid potentially skewed outliers, most notably due to an uneven distribution of SWE across elevation bands. While the mean value represents the average value, it is highly influenced by outliers and is typically best used for uniform distributions of data. In contrast, the median value represents the middle value and is less sensitive to outliers, which can be more useful in skewed distributions. Note that the basin-wide median and mean values may not be directly comparable with the SNOTEL basin-wide values. If comparisons are made with SNOTEL sites, a better comparison may be made across elevation bands (Table 3).

Figure 3 (Rio Grande Headwaters), Figure 4 (Upper Rio Grande), and Figure 5 (Rio Grande-Elephant Butte) show the spatial distribution of SWE amount (in), change in SWE volume (af) since the last report, and SWE volume (af) across subbasin and elevation. Since the last report, spring snowmelt persisted throughout the Rio Grande Basin study area, resulting in a decrease in SWE in all three HUC6 Basins. Rapid snowmelt was detected in all HUC8 subbasins and across all elevation bands, with the remaining snow existing above 10,000' throughout the RG Basin study area. Little to no snow remains in the Rio Grande-Elephant Butte HUC6 Basin. Estimated SNODAS SWE decreased to 9 af throughout the entire Rio Grande-Elephant Butte HUC6 Basin (Figure 5; Tables 1 and 3).

Estimated SWE amounts (in), volumes (af), and change in volumes (af) since the last report are presented in the tables below.

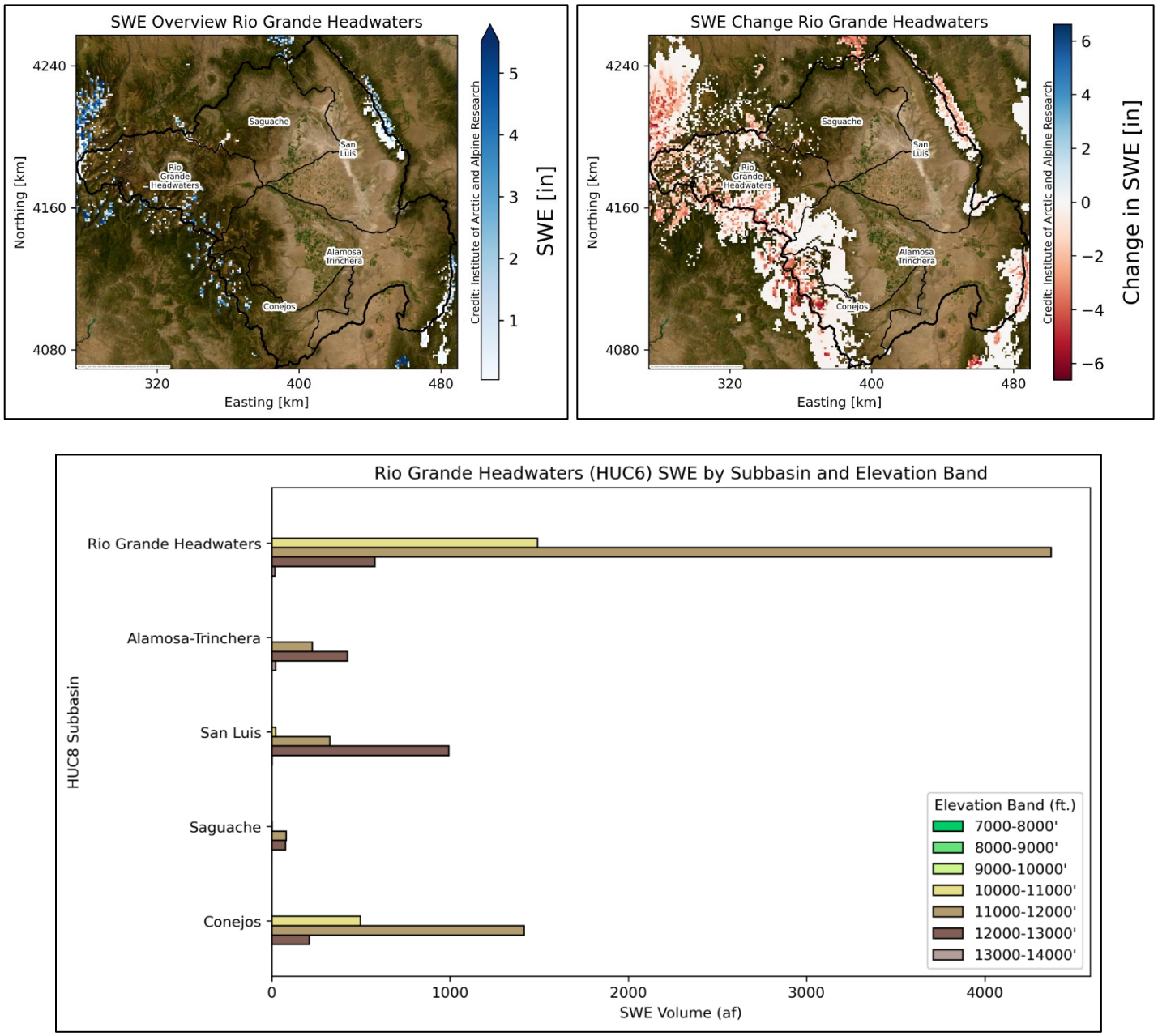

Figure 3. Estimated SNODAS SWE (in) and SWE volume (af) across the Rio Grande Headwaters Basin for May 27, 2025. *SWE amount (top left) and change in SWE since the last report (top right) across the Rio Grande Headwaters Basin (HUC6), including the Rio Grande Headwaters, Alamosa-Trinchera, San Luis, Saguache, and Conejos subbasins. SWE volume (af) by subbasin and elevation band across the Rio Grande Headwaters Basin (bottom).*

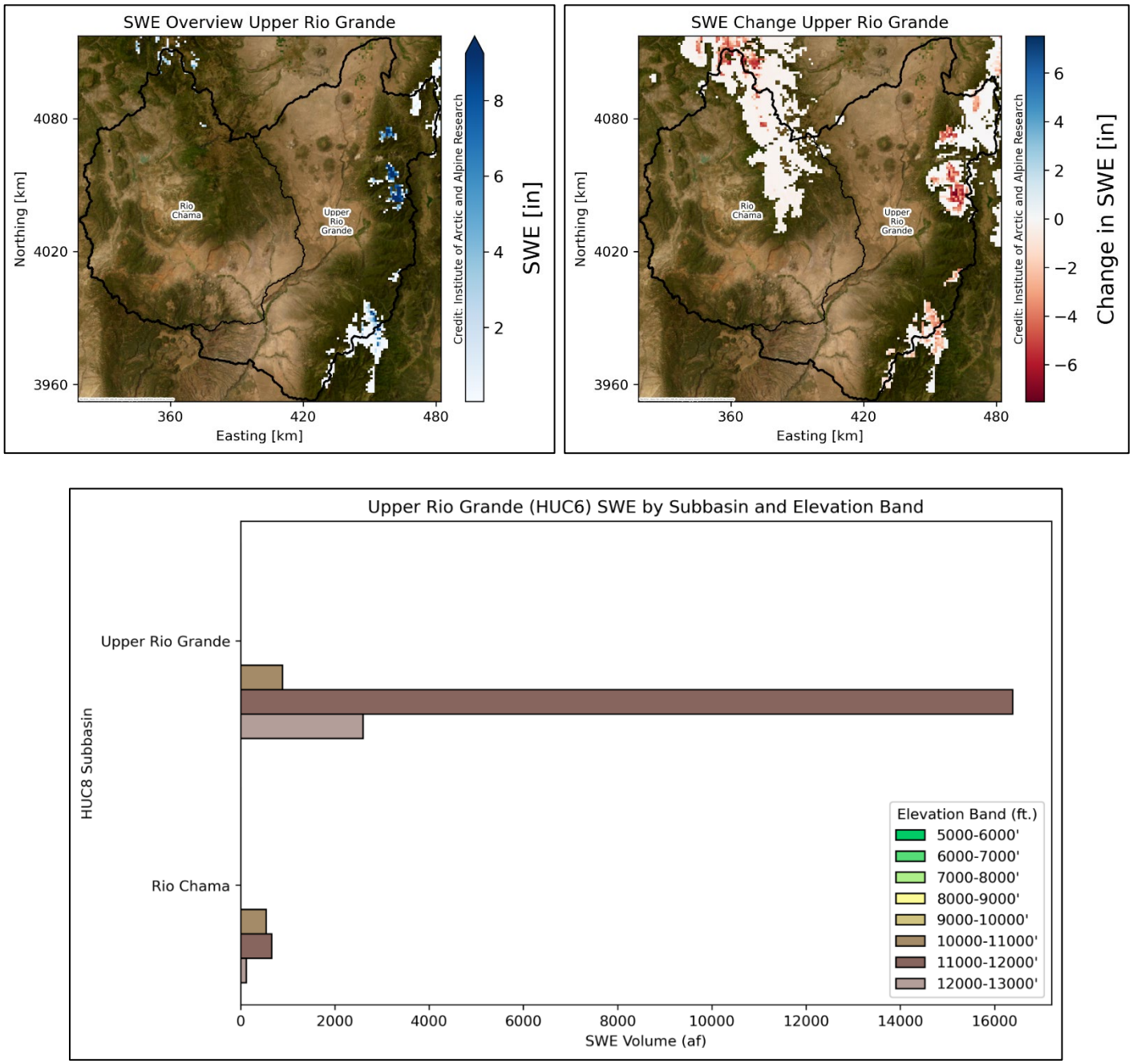

Figure 4. Estimated SNODAS SWE (in) and SWE volume (af) across the Upper Rio Grande Basin for May 27, 2025. *SWE amount (top left) and change in SWE since the last report (top right) across the Upper Rio Grande Basin (HUC6), including the Upper Rio Grande and Rio Chama subbasins. SWE volume (af) by subbasin and elevation band across the Upper Rio Grande Basin (bottom).*

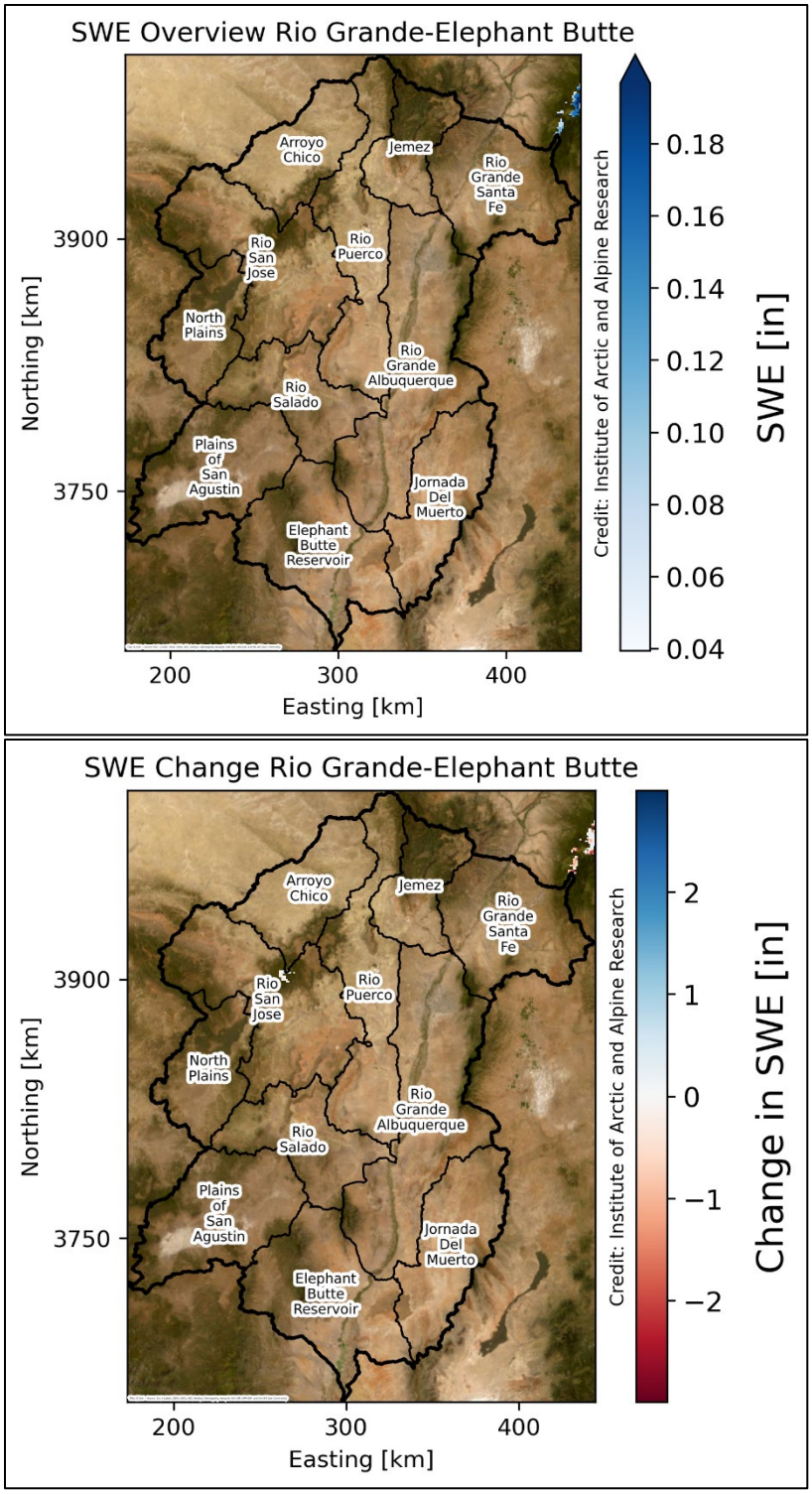

Figure 5. Estimated SNODAS SWE (in) and SWE volume (af) across the Rio Grande-Elephant Butte Basin for May 27, 2025. *SWE amount (top) and change in SWE since the last report (bottom) across Rio Grande-Elephant Butte (HUC6), including the Rio Grande-Santa Fe, Jemez, Rio Grande-Albuquerque, Arroyo Chico, North Plains, Rio San Jose, Plains of San Agustin, Rio Salado, Jornada Del Muerto, Elephant Butte Reservoir, and Rio Puerco subbasins. SWE volume (af) by subbasin and elevation band across the Rio Grande-Elephant Butte Basin is not shown due to minimal to no estimated SWE volume.*

Tables

Table 1. Estimated SWE by HUC6 Basin for May 27, 2025. *Shown are median SWE (in.), mean SWE (in.), estimated volume (af), and volume change (af) since the last report. Values are separated by HUC8 subbasin and totaled for each HUC8 basin (bold).*

HUC6 Basin	HUC8 Subbasin	Median SWE (in.)	Mean SWE (in.)	Estimated Volume (af)	Volume Change since May 20, 2025 (af)
Rio Grande Headwaters	Rio Grande Headwaters	0.0	0.1	6,460	-29,103
	Alamosa-Trinchera	0.0	0.0	674	-8,105
	San Luis	0.0	0.0	1,343	-4,247
	Saguache	0.0	0.0	162	-1,751
	Conejos	0.0	0.1	2,123	-17,978
	Total	**0.0**	**0.0**	**10,763**	**-61,184**
Upper Rio Grande	Upper Rio Grande	0.0	0.1	19,875	-20,105
	Rio Chama	0.0	0.0	1,321	-10,420
	Total	**0.0**	**0.1**	**21,196**	**-30,525**
Rio Grande-Elephant Butte	Rio Grande-Santa Fe	0.0	0.0	9	-179
	Jemez	0.0	0.0	0	0
	Rio Grande-Albuquerque	0.0	0.0	0	0
	Arroyo Chico	0.0	0.0	0	-2
	North Plains	0.0	0.0	0	0
	Rio San Jose	0.0	0.0	0	-40
	Plains of San Agustin	0.0	0.0	0	0
	Rio Salado	0.0	0.0	0	0
	Jornada Del Muerto	0.0	0.0	0	0
	Elephant Butte Reservoir	0.0	0.0	0	0
	Rio Puerco	0.0	0.0	0	0
	Total	**0.0**	**0.0**	**9**	**-221**

Table 2. Estimated SWE by Specified Subbasin Groupings for May 27, 2025. *Shown are median SWE (in.), mean SWE (in.), estimated volume (af), and volume change (af) since the last report. Values are separated by HUC8 subbasin and totaled for each specified subbasin grouping (bold).*

Subbasin Grouping	HUC8 Subbasin	Median SWE (in.)	Mean SWE (in.)	Estimated Volume (af)	Volume Change since May 20, 2025 (af)
Upper Rio Grande	Rio Grande Headwaters	0.0	0.1	6,460	-29,103
	Saguache	0.0	0.0	162	-1,751
	Conejos	0.0	0.1	2,123	-17,978
	Total	**0.0**	**0.0**	**8,746**	**-48,832**
Sangre de Cristo	San Luis	0.0	0.0	1,343	-4,247
	Alamosa-Trinchera	0.0	0.0	674	-8,105
	Upper Rio Grande	0.0	0.1	19,875	-20,105
	Total	**0.0**	**0.1**	**21,892**	**-32,457**
Rio Chama		**0.0**	**0.0**	**1,321**	**-10,420**
Jemez		**0.0**	**0.0**	**0**	**0**

Table 3. Estimated SWE by HUC6 Basin and Elevation Band for May 27, 2025. *Shown are median SWE (in.), mean SWE (in.), estimated volume (af), and volume change (af) since the last report. Values are separated by elevation band (1000 ft. increments) and HUC8 subbasin.*

HUC6 Basin	HUC8 Subbasin	Elevation Band (ft.)	Median SWE (in.)	Mean SWE (in.)	Estimated Volume (af)	Volume Change since May 20, 2025 (af)
Rio Grande Headwaters	Rio Grande Headwaters	7000-8000'	0.0	0.0	0	0
		8000-9000'	0.0	0.0	0	0
		9000-10000'	0.0	0.0	0	-298
		10000-11000'	0.0	0.1	1,491	-5,891
		11000-12000'	0.0	0.2	4,372	-17,041
		12000-13000'	0.0	0.1	580	-5,769
		13000-14000'	0.0	0.1	18	-104
	Alamosa-Trinchera	7000-8000'	0.0	0.0	0	0
		8000-9000'	0.0	0.0	0	-17
		9000-10000'	0.0	0.0	0	-1,090
		10000-11000'	0.0	0.0	0	-1,398
		11000-12000'	0.0	0.0	227	-3,874
		12000-13000'	0.0	0.2	426	-1,628
		13000-14000'	0.0	0.3	21	-97
	San Luis	7000-8000'	0.0	0.0	0	0
		8000-9000'	0.0	0.0	0	0
		9000-10000'	0.0	0.0	0	-2
		10000-11000'	0.0	0.0	21	-407
		11000-12000'	0.0	0.1	327	-1,805
		12000-13000'	0.0	0.4	994	-2,016
		13000-14000'	0.0	0.0	2	-18
	Saguache	7000-8000'	0.0	0.0	0	0
		8000-9000'	0.0	0.0	0	0
		9000-10000'	0.0	0.0	0	-10
		10000-11000'	0.0	0.0	3	-395
		11000-12000'	0.0	0.0	81	-734
		12000-13000'	0.0	0.1	77	-613
		13000-14000'	0.0	0.0	1	0
	Conejos	7000-8000'	0.0	0.0	0	0
		8000-9000'	0.0	0.0	0	-14
		9000-10000'	0.0	0.0	0	-817
		10000-11000'	0.0	0.1	497	-5,499

HUC6 Basin	HUC8 Subbasin	Elevation Band (ft.)	Median SWE (in.)	Mean SWE (in.)	Estimated Volume (af)	Volume Change since May 20, 2025 (af)
Rio Grande Headwaters	Conejos	11000-12000'	0.0	0.3	1,415	-10,836
		12000-13000'	0.0	0.5	211	-812
Upper Rio Grande	Upper Rio Grande	5000-6000'	0.0	0.0	0	0
		6000-7000'	0.0	0.0	0	0
		7000-8000'	0.0	0.0	0	0
		8000-9000'	0.0	0.0	0	-2
		9000-10000'	0.0	0.0	0	-276
		10000-11000'	0.0	0.1	887	-3,286
		11000-12000'	0.1	2.1	16,387	-13,674
		12000-13000'	0.2	2.2	2,602	-2,867
	Rio Chama	5000-6000'	0.0	0.0	0	0
		6000-7000'	0.0	0.0	0	0
		7000-8000'	0.0	0.0	0	0
		8000-9000'	0.0	0.0	0	-206
		9000-10000'	0.0	0.0	0	-2,379
		10000-11000'	0.0	0.0	541	-4,875
		11000-12000'	0.0	0.8	659	-2,799
		12000-13000'	2.9	2.9	121	-161
Rio Grande-Elephant Butte	Rio Grande-Santa Fe	5000-6000'	0.0	0.0	0	0
		6000-7000'	0.0	0.0	0	0
		7000-8000'	0.0	0.0	0	0
		8000-9000'	0.0	0.0	0	0
		9000-10000'	0.0	0.0	0	0
		10000-11000'	0.0	0.0	2	-62
		11000-12000'	0.1	0.1	7	-118
	Jemez	5000-6000'	0.0	0.0	0	0
		6000-7000'	0.0	0.0	0	0
		7000-8000'	0.0	0.0	0	0
		8000-9000'	0.0	0.0	0	0
		9000-10000'	0.0	0.0	0	0
		10000-11000'	0.0	0.0	0	0
	Rio Grande-Albuquerque	4000-5000'	0.0	0.0	0	0
		5000-6000'	0.0	0.0	0	0
		6000-7000'	0.0	0.0	0	0
		7000-8000'	0.0	0.0	0	0

HUC6 Basin	HUC8 Subbasin	Elevation Band (ft.)	Median SWE (in.)	Mean SWE (in.)	Estimated Volume (af)	Volume Change since May 20, 2025 (af)
Rio Grande-Elephant Butte	Rio Grande-Albuquerque	8000-9000'	0.0	0.0	0	0
		9000-10000'	0.0	0.0	0	0
		10000-11000'	0.0	0.0	0	0
	Arroyo Chico	5000-6000'	0.0	0.0	0	0
		6000-7000'	0.0	0.0	0	0
		7000-8000'	0.0	0.0	0	0
		8000-9000'	0.0	0.0	0	-1
		9000-10000'	0.0	0.0	0	0
		10000-11000'	0.0	0.0	0	-1
	North Plains	6000-7000'	0.0	0.0	0	0
		7000-8000'	0.0	0.0	0	0
		8000-9000'	0.0	0.0	0	0
	Rio San Jose	5000-6000'	0.0	0.0	0	0
		6000-7000'	0.0	0.0	0	0
		7000-8000'	0.0	0.0	0	0
		8000-9000'	0.0	0.0	0	0
		9000-10000'	0.0	0.0	0	-18
		10000-11000'	0.0	0.0	0	-22
	Plains of San Agustin	6000-7000'	0.0	0.0	0	0
		7000-8000'	0.0	0.0	0	0
		8000-9000'	0.0	0.0	0	0
		9000-10000'	0.0	0.0	0	0
	Rio Salado	4000-5000'	0.0	0.0	0	0
		5000-6000'	0.0	0.0	0	0
		6000-7000'	0.0	0.0	0	0
		7000-8000'	0.0	0.0	0	0
		8000-9000'	0.0	0.0	0	0
		9000-10000'	0.0	0.0	0	0
	Jornada Del Muerto	4000-5000'	0.0	0.0	0	0
		5000-6000'	0.0	0.0	0	0
		6000-7000'	0.0	0.0	0	0
		7000-8000'	0.0	0.0	0	0
		8000-9000'	0.0	0.0	0	0
	Elephant Butte Reservoir	4000-5000'	0.0	0.0	0	0

HUC6 Basin	HUC8 Subbasin	Elevation Band (ft.)	Median SWE (in.)	Mean SWE (in.)	Estimated Volume (af)	Volume Change since May 20, 2025 (af)
Rio Grande-Elephant Butte	Elephant Butte Reservoir	5000-6000'	0.0	0.0	0	0
		6000-7000'	0.0	0.0	0	0
		7000-8000'	0.0	0.0	0	0
		8000-9000'	0.0	0.0	0	0
		9000-10000'	0.0	0.0	0	0
		10000-11000'	0.0	0.0	0	0
	Rio Puerco	4000-5000'	0.0	0.0	0	0
		5000-6000'	0.0	0.0	0	0
		6000-7000'	0.0	0.0	0	0
		7000-8000'	0.0	0.0	0	0
		8000-9000'	0.0	0.0	0	0
		9000-10000'	0.0	0.0	0	0
		10000-11000'	0.0	0.0	0	0

Acknowledgments

The work completed and presented in this report is funded by NASA Western Water Applications Office (WWAO), subcontract no. 1712706, as part of the *Rio Grande River Basin Needs Assessment Report* (WWAO and DBS&A, 2022).

References

Arsenault, R., Gatien, P., Renaud, B., Brissette, F., & Martel, J. L. (2015). A comparative analysis of 9 multi-model averaging approaches in hydrological continuous streamflow simulation. *Journal of Hydrology*, 529, 754-767.

Barrett, Andrew. (2003). *National Operational Hydrologic Remote Sensing Center Snow Data Assimilation System (SNODAS) Products at NSIDC*. NSIDC Special Report 11. Boulder, CO USA: National Snow and Ice Data Center. 19 pp.

Environmental Protection Agency [EPA]. (2016a). *Climate Change Indicators: Drought*. Web update: June 2024. Available at: https://www.epa.gov/climate-indicators/climate-change-indicators-drought. Accessed: March 31, 2025.

Environmental Protection Agency [EPA]. (2016b) *Climate Change Indicators: Snowpack*. Web update: June 2024. Available at: https://www.epa.gov/climate-indicators/climate-change-indicators-snowpack. Accessed: March 31, 2025.

Hale, K.E., Jennings, K.S., Musselman, K.N., Livneh, B., Molotch, N.P. (2023). Recent decreases in snow water storage in western North America. *Communications Earth & Environment*, 4(1), p. 170. Available at: https://doi.org/10.1038/s43247-023-00751-3.

Meromy, L., Molotch, N.P., Link, T.E., Fassnacht, S.R., & Rice, R. (2013). Subgrid variability of snow water equivalent at operational snow stations in the western USA. *Hydrological Processes, 27*, 2383-2400, doi: 10.1002/hyp.9355.

Moeser, C. David., Chavarria, S. B., & Wootten, A. M. (2021). *Streamflow response to potential changes in climate in the Upper Rio Grande Basin* (USGS Numbered Series No. 2021–5138; Scientific Investigations Report). U.S. Geological Survey. https://www.usgs.gov/publications/streamflow-response-potential-changes-climate-upper-rio-grande-basin.

Mote, P. W., Hamlet, A. F., Clark, M. P., & Lettenmaier, D. P. (2005). Declining mountain snowpack in western North America. *Bulletin of the American Meteorological Society, 86*(1), 39–50. https://doi.org/10.1175/BAMS-86-1-39.

Mote, P. W., Li, S., Lettenmaier, D. P., Xiao, M., & Engel, R. (2018). Dramatic declines in snowpack in the western US. *Climate and Atmospheric Science*, 1, 2. https://doi.org/10.1038/s41612-018-0012-1.

Mudryk, L., Mortimer, C., Derksen, C., Elias Chereque, A., Kushner, P. (2025). Benchmarking of snow water equivalent (SWE) products based on outcomes of the SnowPEx+ Intercomparison Project. *The Cryosphere, 19*(1), pp. 201–218. Available at: https://doi.org/10.5194/tc-19-201-2025.

NASA Wester Water Applications Office [WWAO] and Daniel B. Stephens & Associates, Inc. [DBS&A]. (2022). *Rio Grande River Basin Needs Assessment Report.* NASA WWAO Assessment Report. Available at: https://wwao.jpl.nasa.gov/documents/138/Water-Needs-Rio-Grande-Report-2022.pdf.

National Operational Hydrologic Remote Sensing Center [NOHRSC]. (2004). *Snow Data Assimilation System (SNODAS) Data Products at NSIDC, Version 1*. SWE Dataset. Boulder, Colorado USA. NSIDC: National Snow and Ice Data Center. https://doi.org/10.7265/N5TB14TC. Accessed: April 1, 2025, and as needed.

Thompson, P.D. (1977). How to improve accuracy by combining independent forecasts. *Monthly Weather Review, 105*(2), pp.228-229.