Ensemble-Based Spatial Snow Water Equivalent Estimates Using the SWE Evaluation Tool for the Rio Grande Basin

February 1, 2026

Project Team:
Max Gersh[1], Logan Stephenson[2], Ross Palomaki[2], and Karl Rittger[2]

Contributor:
Noah Molotch[2]

[1] New Mexico Office of the State Engineer (NM OSE) Hydrology Bureau
[2] Institute of Arctic and Alpine Research (INSTAAR), University of Colorado Boulder
Work funded by: NASA Western Water Actions Office (WWAO)
Contact: Max.Gersh@ose.nm.gov

Introduction

No spaceborne sensor can directly measure snow water equivalent (SWE). Therefore, the spatial distribution of SWE must be estimated from remotely sensed observations combined with modeling approaches. Existing gridded SWE products exhibit documented accuracy limitations across both mountainous and non-mountainous regions, resulting in a wide range of SWE estimates for any given location. To address this uncertainty, the New Mexico Office of the State Engineer (NM OSE), in collaboration with the Institute of Arctic and Alpine Research (INSTAAR), developed the SWE Evaluation Tool (SWEET). SWEET integrates multiple suitable SWE data products into an ensemble framework, with the objective of producing near-real-time spatial SWE estimates for the Rio Grande Basin that are, on average, as accurate as or more accurate than any individual product alone.

Figure 1 shows the near-real-time (February 1, 2026) ensemble SWE estimates for the Rio Grande Basin. Subsequent sections of this report present detailed ensemble-based SWE maps, along with summaries by subbasin and elevation band. In addition to the ensemble results highlighted in this report, figures and tables for each individual SWE product are also provided for download to support transparency and further analysis. These data sets and visualizations are available on the GitHub repository.

For ease of navigation, hyperlinks are provided throughout this report to help readers quickly access basin-specific sections and supporting data tables.

Rio Grande Basin SWE Overview

Rio Grande Headwaters

Upper Rio Grande

Rio Grande-Elephant Butte (Middle Rio Grande)

About SWEET

Rio Grande Basin SWE Overview

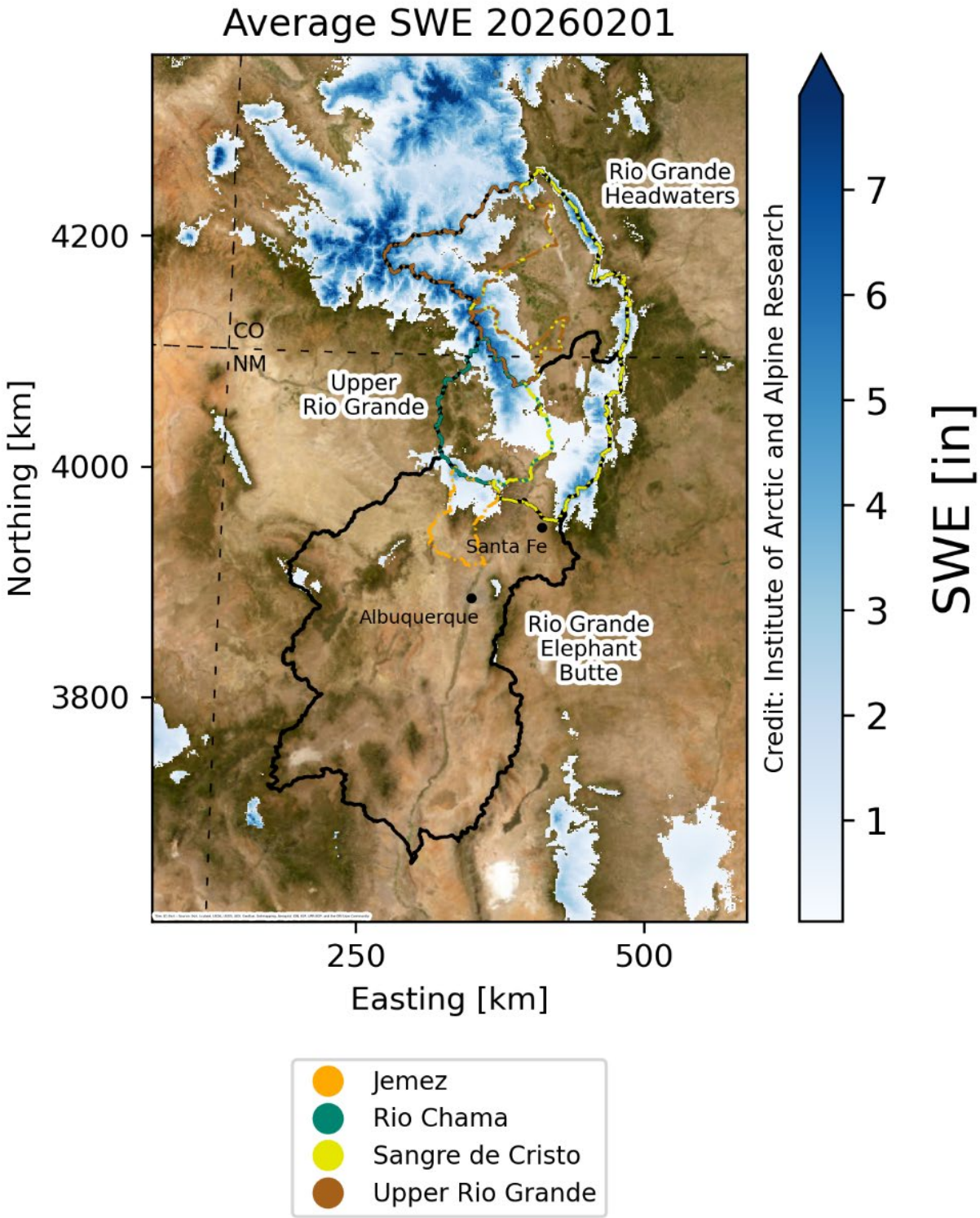

Figure 1. Estimated ensemble SWE (in.) across the Rio Grande Basin for February 1, 2026. *SWE amounts (in.) across the Rio Grande Basin; dark blue pixels denote greater SWE amounts.*

Table 1. Estimated ensemble SWE by HUC6 Basin for February 1, 2026. *Shown are ensemble mean volume (af), ensemble median volume (af), ensemble minimum volume (af), and ensemble maximum volume (af). The SWE product in parenthesis in the minimum and maximum columns represents which product is reporting the value. Values are separated by HUC8 subbasin and totaled for each HUC8 basin (bold).*

HUC6 Basin	HUC8 Basin	Ensemble Mean Vol. (af)	Ensemble Median Vol. (af)	Ensemble Min. Vol. (af)	Ensemble Max. Vol. (af)
Rio Grande Headwaters	Rio Grande Headwaters	201,981	200,856	194,499 (UA_SWE)	210,589 (CU_SWE)
	Alamosa-Trinchera	86,136	87,389	60,391 (SNODAS)	110,627 (UA_SWE)
	San Luis	53,771	52,516	38,733 (SNODAS)	70,064 (UA_SWE)
	Saguache	61,736	62,415	45,966 (SNODAS)	76,827 (UA_SWE)
	Conejos	100,247	103,558	85,348 (CU_SWE)	111,836 (SNODAS)
	Total	**503,872**	**498,257**	**457,781 (SNODAS)**	**555,576 (UA_SWE)**
Upper Rio Grande	Upper Rio Grande	115,926	114,581	65,937 (CU_SWE)	167,260 (UA_SWE)
	Rio Chama	154,863	160,540	120,814 (CU_SWE)	183,237 (UA_SWE)
	Total	**270,790**	**275,120**	**186,751 (CU_SWE)**	**350,497 (UA_SWE)**
Rio Grande-Elephant Butte	Rio Grande-Santa Fe	5,545	4,835	3,028 (SNODAS)	8,772 (UA_SWE)
	Jemez	23,172	23,629	12,154 (SNODAS)	33,732 (UA_SWE)
	Rio Grande-Albuquerque	1,446	928	638 (SNODAS)	2,772 (UA_SWE)
	Arroyo Chico	4,921	2,538	0 (SNODAS)	12,224 (CU_SWE)
	North Plains	985	941	63 (SNODAS)	1,952 (CU_SWE)
	Rio San Jose	7,701	7,086	2,554 (SNODAS)	13,462 (CU_SWE)
	Plains of San Agustin	643	409	340 (UA_SWE)	1,180 (CU_SWE)
	Rio Salado	10	7	0 (SNODAS)	22 (UA_SWE)
	Jornada Del Muerto	38	12	7 (CU_SWE)	96 (SNODAS)
	Elephant Butte Reservoir	906	369	256 (SNODAS)	2,093 (CU_SWE)
	Rio Puerco	9,501	9,823	2,867 (SNODAS)	15,813 (UA_SWE)
	Total	**54,867**	**70,139**	**22,066 (SNODAS)**	**72,397 (UA_SWE)**

Table 2. Estimated ensemble SWE by specified subbasin groupings for February 1, 2026. *Shown are ensemble mean volume (af), ensemble median volume (af), ensemble minimum volume (af), and ensemble maximum volume (af). The SWE product in parenthesis in the minimum and maximum columns represents which product is reporting the value. Values are separated by HUC8 subbasin and totaled for each specified subbasin grouping (bold).*

OSE Grouping	HUC8 Basin	Ensemble Mean Vol. (af)	Ensemble Median Vol. (af)	Ensemble Min. Vol. (af)	Ensemble Max. Vol. (af)
Upper Rio Grande	Rio Grande Headwaters	201,981	200,856	194,499 (UA_SWE)	210,589 (CU_SWE)
	Saguache	61,736	62,415	45,966 (SNODAS)	76,827 (UA_SWE)
	Conejos	100,247	103,558	85,348 (CU_SWE)	111,836 (SNODAS)
	Total	**363,965**	**358,658**	**358,351 (CU_SWE)**	**374,885 (UA_SWE)**
Sangre de Cristo	San Luis	53,771	52,516	38,733 (SNODAS)	70,064 (UA_SWE)
	Alamosa-Trinchera	86,136	87,389	60,391 (SNODAS)	110,627 (UA_SWE)
	Upper Rio Grande	115,926	114,581	65,937 (CU_SWE)	167,260 (UA_SWE)
	Total	**255,833**	**213,705**	**205,842 (CU_SWE)**	**347,952 (UA_SWE)**
Rio Chama	**Total**	**154,863**	**160,540**	**120,814 (CU_SWE)**	**183,237 (UA_SWE)**
Jemez	**Total**	**23,172**	**23,629**	**12,154 (SNODAS)**	**33,732 (UA_SWE)**

Upper Rio Grande Snowpack Update Application

The OSE/ISC Upper Rio Grande Snowpack Update Application (Application) provides water managers and users with detailed SNOTEL-based SWE data organized by the same subbasin groupings shown in Table 2. The Application is updated regularly from December through May and compiles key SWE information from SNOTEL sites within each subbasin. In addition to the Upper Rio Grande groupings (Upper Rio Grande, Sangre de Cristo, Rio Chama, and Jemez), the Application also includes the San Juan River Basin, with data summarized for the Upper San Juan, Animas, and Piedra subbasins.

The Application can be viewed here[1].

[1] Please note that access to the Application may be restricted to employees of the NM OSE/ISC at this time. We are currently working on public access.

Rio Grande Headwaters

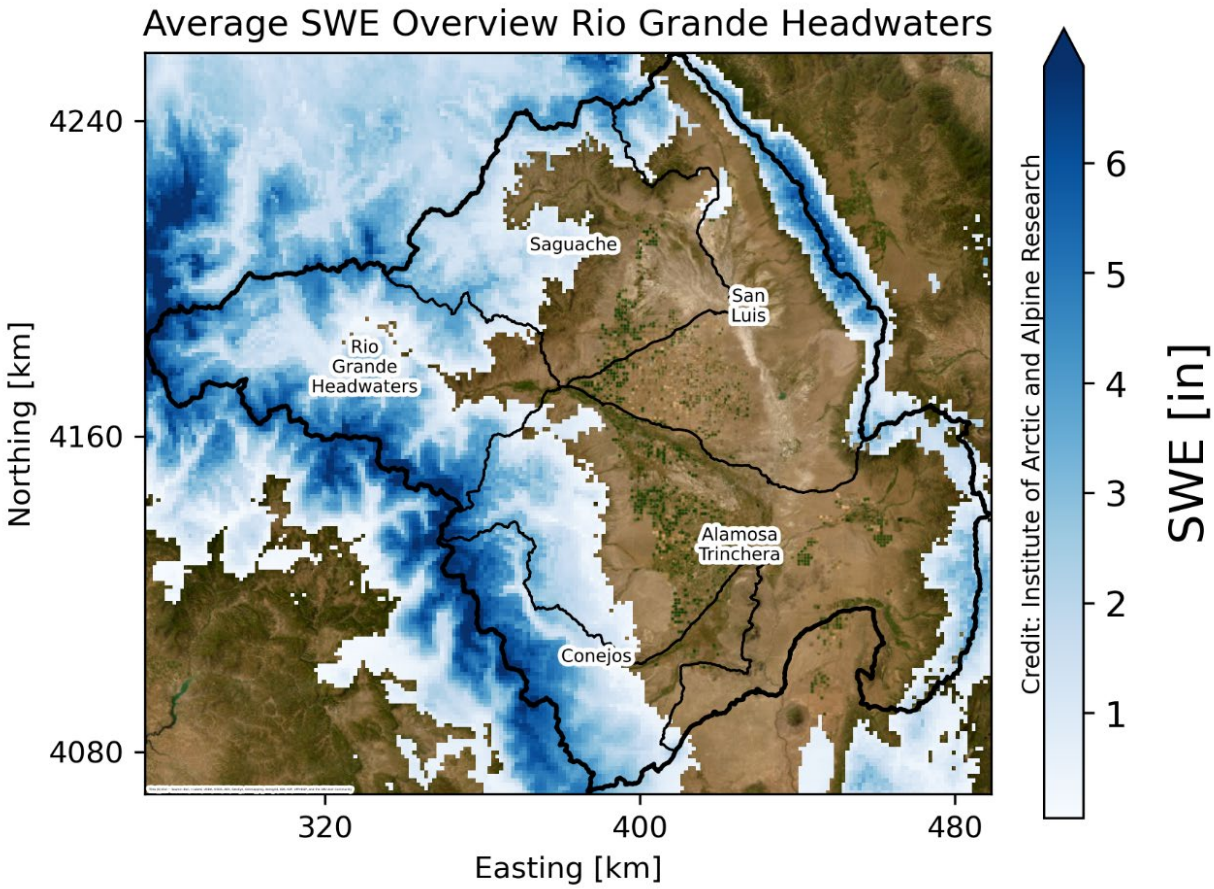

Figure 2. Estimated ensemble SWE (in.) across the Rio Grande Headwaters HUC6 Basin for February 1, 2026. *Ensemble SWE amount across the Rio Grande Headwaters Basin (HUC6), showing spatial patterns of SWE across subbasins including Rio Grande Headwaters, Alamosa-Trinchera, San Luis, Saguache, and Conejos (HUC8). Basin and subbasin boundaries are shown in black. SWE represents the ensemble mean derived from the SWE Evaluation Tool (SWEET); dark blue pixels denote greater SWE amounts.*

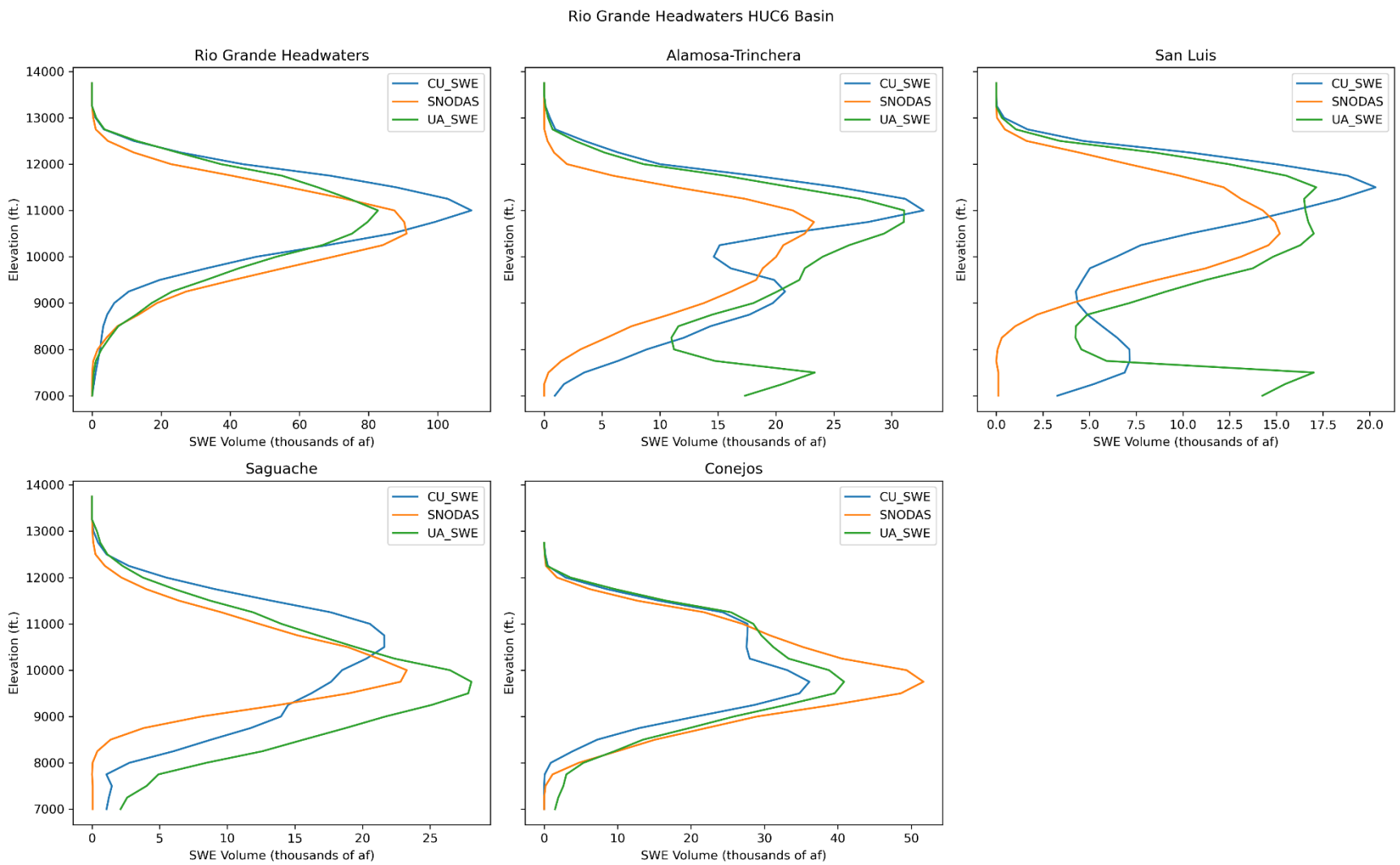

Figure 3. Estimated SWE volume (thousands of af) by subbasin and elevation band across the Rio Grande Headwaters HUC6 Basin for February 1, 2026. *Elevation-distributed SWE volume for the Rio Grande Headwaters HUC6 Basin and associated subbasins (Rio Grande Headwaters, Alamosa–Trinchera, San Luis, Saguache, and Conejos), comparing three spatial SWE products (CU_SWE, SNODAS, and UA_SWE). Curves show SWE volume summarized by elevation band, illustrating differences in both magnitude and vertical distribution among products across each subbasin.*

Table 3. Estimated ensemble SWE by HUC8 subbasin and elevation band across the Rio Grande Headwaters HUC6 Basin for February 1, 2026. *Shown are ensemble mean volume (af), ensemble median volume (af), ensemble minimum volume (af), and ensemble maximum volume (af). The SWE product in parenthesis in the minimum and maximum columns represents*

HUC6 Basin	HUC8 Subbasin	Elevation Band (ft.)	Ensemble Mean Vol. (af)	Ensemble Median Vol. (af)	Ensemble Min. Vol. (af)	Ensemble Max. Vol. (af)
Rio Grande Headwaters	Rio Grande Headwaters	7000-8000'	21	18	0 (SNODAS)	44 (UA_SWE)
		8000-9000'	2,207	2,297	1,616 (SNODAS)	2,709 (UA_SWE)
		9000-10000'	14,145	17,243	6,417 (CU_SWE)	18,776 (SNODAS)
		10000-11000'	56,894	53,308	47,550 (CU_SWE)	69,825 (SNODAS)
		11000-12000'	93,324	87,481	82,737 (UA_SWE)	109,756 (CU_SWE)
		12000-13000'	34,547	37,268	22,814 (SNODAS)	43,560 (CU_SWE)
		13000-14000'	842	991	345 (SNODAS)	1,191 (UA_SWE)
	Alamosa-Trinchera	7000-8000'	6,086	923	0 (SNODAS)	17,336 (UA_SWE)
		8000-9000'	7,732	8,858	3,133 (SNODAS)	11,206 (UA_SWE)
		9000-10000'	17,199	18,067	13,788 (SNODAS)	19,743 (CU_SWE)
		10000-11000'	19,568	20,025	14,641 (CU_SWE)	24,037 (UA_SWE)
		11000-12000'	28,424	31,070	21,464 (SNODAS)	32,739 (CU_SWE)
		12000-13000'	6,842	8,574	1,968 (SNODAS)	9,984 (CU_SWE)
		13000-14000'	284	338	11 (SNODAS)	502 (CU_SWE)
	San Luis	7000-8000'	5,881	3,275	115 (SNODAS)	14,253 (UA_SWE)
		8000-9000'	3,921	4,557	73 (SNODAS)	7,133 (CU_SWE)
		9000-10000'	5,179	4,356	4,049 (SNODAS)	7,134 (UA_SWE)
		10000-11000'	11,453	13,104	6,430 (CU_SWE)	14,825 (UA_SWE)
		11000-12000'	15,593	15,943	14,280 (SNODAS)	16,557 (UA_SWE)
		12000-13000'	11,488	12,435	7,070 (SNODAS)	14,961 (CU_SWE)
		13000-14000'	255	304	42 (SNODAS)	419 (CU_SWE)
	Saguache	7000-8000'	1,076	1,072	46 (SNODAS)	2,109 (UA_SWE)
		8000-9000'	3,746	2,755	36 (SNODAS)	8,447 (UA_SWE)
		9000-10000'	14,585	13,970	8,087 (SNODAS)	21,697 (UA_SWE)
		10000-11000'	22,738	23,269	18,484 (CU_SWE)	26,462 (UA_SWE)
		11000-12000'	15,626	13,999	12,336 (SNODAS)	20,544 (CU_SWE)
		12000-13000'	3,802	3,754	2,168 (SNODAS)	5,484 (CU_SWE)
		13000-14000'	163	106	24 (SNODAS)	359 (UA_SWE)
	Conejos	7000-8000'	495	0	0 (SNODAS, CU_SWE)	1,486 (UA_SWE)
		8000-9000'	3,652	4,711	900 (CU_SWE)	5,346 (UA_SWE)

Rio Grande Headwaters	Conejos	9000-10000'	25,185	25,851	20,703 (CU_SWE)	29,000 (SNODAS)
		10000-11000'	40,421	38,795	33,113 (CU_SWE)	49,354 (SNODAS)
		11000-12000'	27,732	27,698	27,012 (SNODAS)	28,487 (UA_SWE)
		12000-13000'	2,762	2,933	1,759 (SNODAS)	3,593 (UA_SWE)

Upper Rio Grande

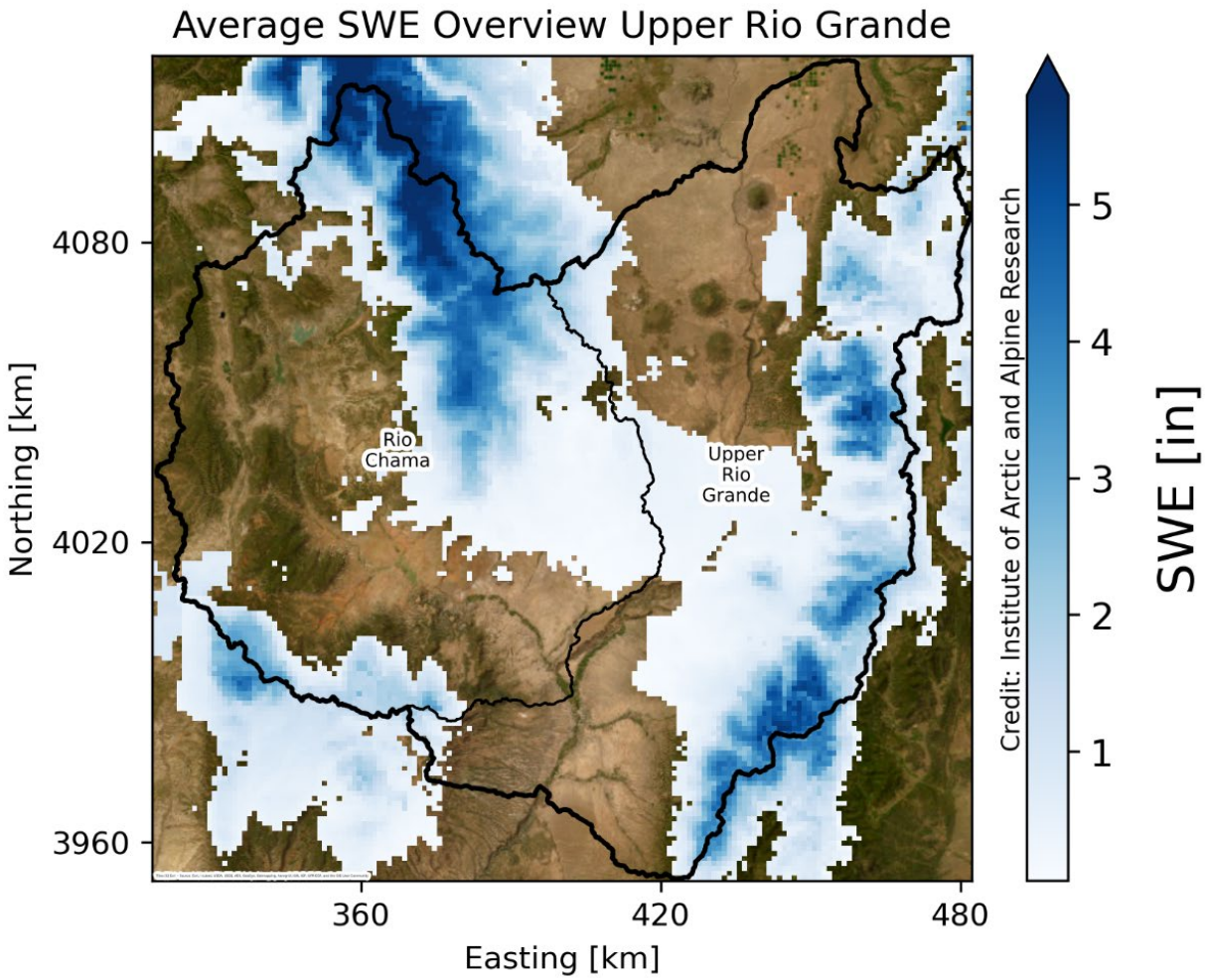

Figure 4. Estimated ensemble SWE (in.) across the Upper Rio Grande HUC6 Basin for February 1, 2026. *Ensemble SWE amount across the Upper Rio Grande Basin (HUC6), showing spatial patterns of SWE across subbasins including Rio Chama and Upper Rio Grande (HUC8). Basin and subbasin boundaries are shown in black. SWE represents the ensemble mean derived from the SWE Evaluation Tool (SWEET); dark blue pixels denote greater SWE amounts.*

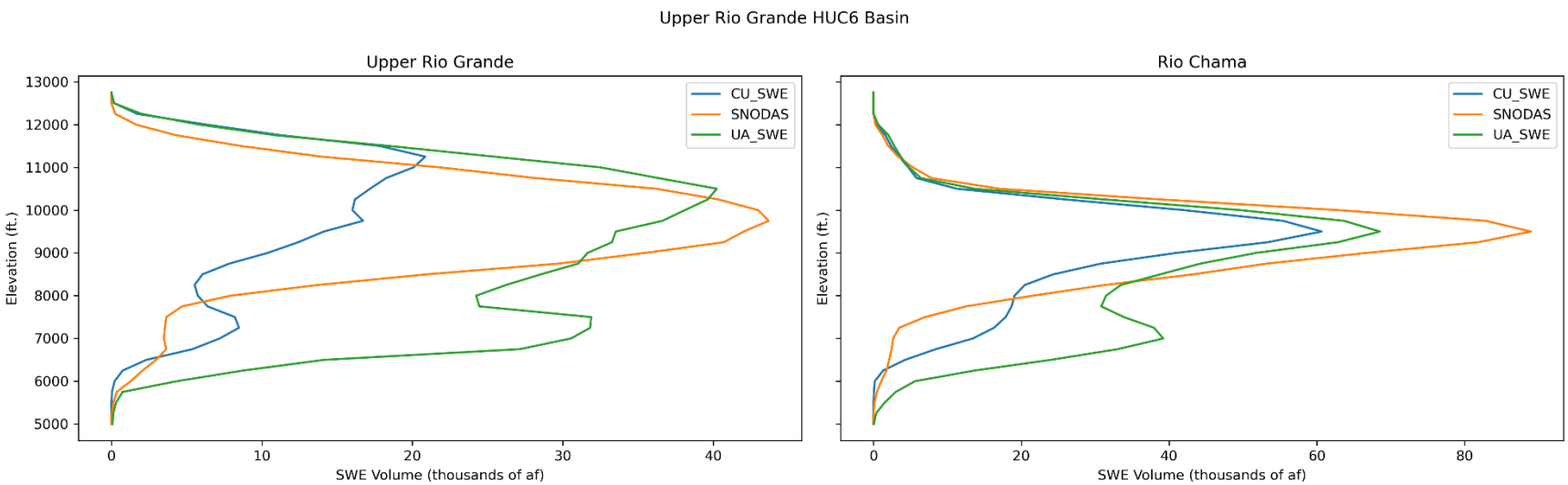

Figure 5. Estimated SWE volume (thousands of af) by subbasin and elevation band across the Upper Rio Grande HUC6 Basin for February 1, 2026. *Elevation-distributed SWE volume for the Upper Rio Grande HUC6 Basin and associated subbasins (Rio Chama and Upper Rio Grande), comparing three spatial SWE products (CU_SWE, SNODAS, and UA_SWE). Curves show SWE volume summarized by elevation band, illustrating differences in both magnitude and vertical distribution among products across each subbasin.*

Table 4. Estimated ensemble SWE by HUC8 subbasin and elevation band across the Upper Rio Grande HUC6 Basin for February 1, 2026. *Shown are ensemble mean volume (af), ensemble median volume (af), ensemble minimum volume (af), and ensemble maximum volume (af). The SWE product in parenthesis in the minimum and maximum columns represents which product is reporting the value.*

HUC6 Basin	HUC8 Subbasin	Elevation Band (ft.)	Ensemble Mean Vol. (af)	Ensemble Median Vol. (af)	Ensemble Min. Vol. (af)	Ensemble Max. Vol. (af)
Upper Rio Grande	Upper Rio Grande	5000-6000'	27	0	0 (SNODAS, CU_SWE)	81 (UA_SWE)
		6000-7000'	1,943	1,277	211 (CU_SWE)	4,340 (UA_SWE)
		7000-8000'	13,743	7,198	3,488 (SNODAS)	30,544 (UA_SWE)
		8000-9000'	12,638	7,926	5,748 (CU_SWE)	24,241 (UA_SWE)
		9000-10000'	25,833	31,646	10,394 (CU_SWE)	35,461 (SNODAS)
		10000-11000'	32,368	38,110	16,018 (CU_SWE)	42,978 (SNODAS)
		11000-12000'	24,796	21,819	20,082 (CU_SWE)	32,486 (UA_SWE)
		12000-13000'	4,577	5,812	1,631 (SNODAS)	6,287 (CU_SWE)
	Rio Chama	5000-6000'	17	0	0 (SNODAS, CU_SWE)	50 (UA_SWE)
		6000-7000'	2,271	1,041	171 (CU_SWE)	5,602 (UA_SWE)
		7000-8000'	18,443	13,451	2,661 (SNODAS)	39,218 (UA_SWE)
		8000-9000'	24,045	21,584	19,083 (CU_SWE)	31,469 (UA_SWE)
		9000-10000'	53,158	51,780	40,988 (CU_SWE)	66,705 (SNODAS)
		10000-11000'	51,553	49,668	42,030 (CU_SWE)	62,960 (SNODAS)
		11000-12000'	4,954	4,821	4,707 (CU_SWE)	5,333 (SNODAS)
		12000-13000'	423	384	256 (SNODAS)	629 (UA_SWE)

Rio Grande-Elephant Butte (Middle Rio Grande)

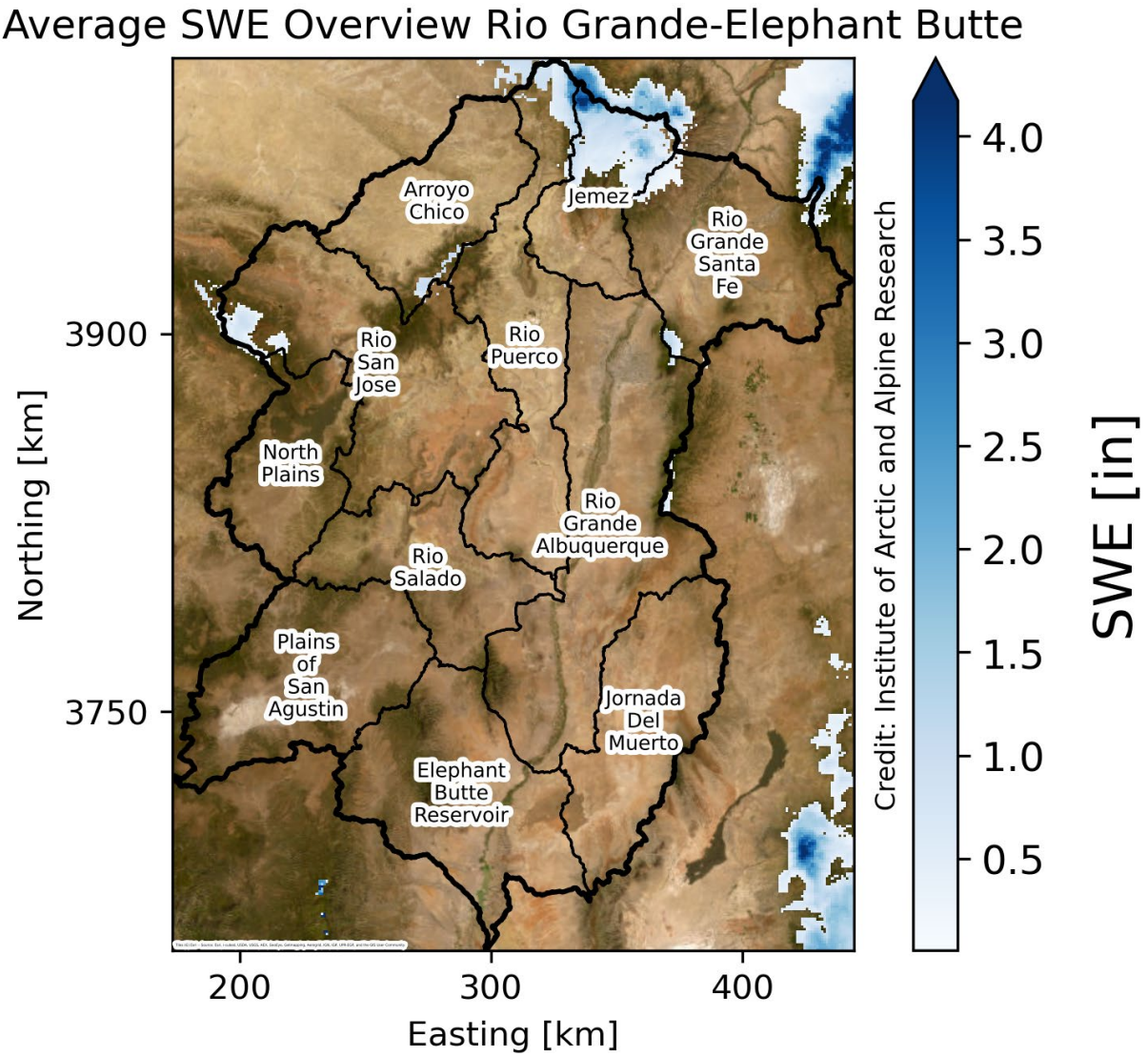

Figure 6. Estimated ensemble SWE (in.) across the Rio Grande-Elephant Butte HUC6 Basin for February 1, 2026. *Ensemble SWE amount across the Rio Grande-Elephant Butte (HUC6), showing spatial patterns of SWE across subbasins including Rio Grande-Santa Fe, Jemez, Arroyo Chico, Rio San Jose, Rio Puerco, Rio Grande-Albuquerque, Rio Salado, North Plains, Plains of San Agustin, Elephant Butte Reservoir, and Jornada Del Muerto (HUC8). Basin and subbasin boundaries are shown in black. SWE represents the ensemble mean derived from the SWE Evaluation Tool (SWEET); dark blue pixels denote greater SWE amounts.*

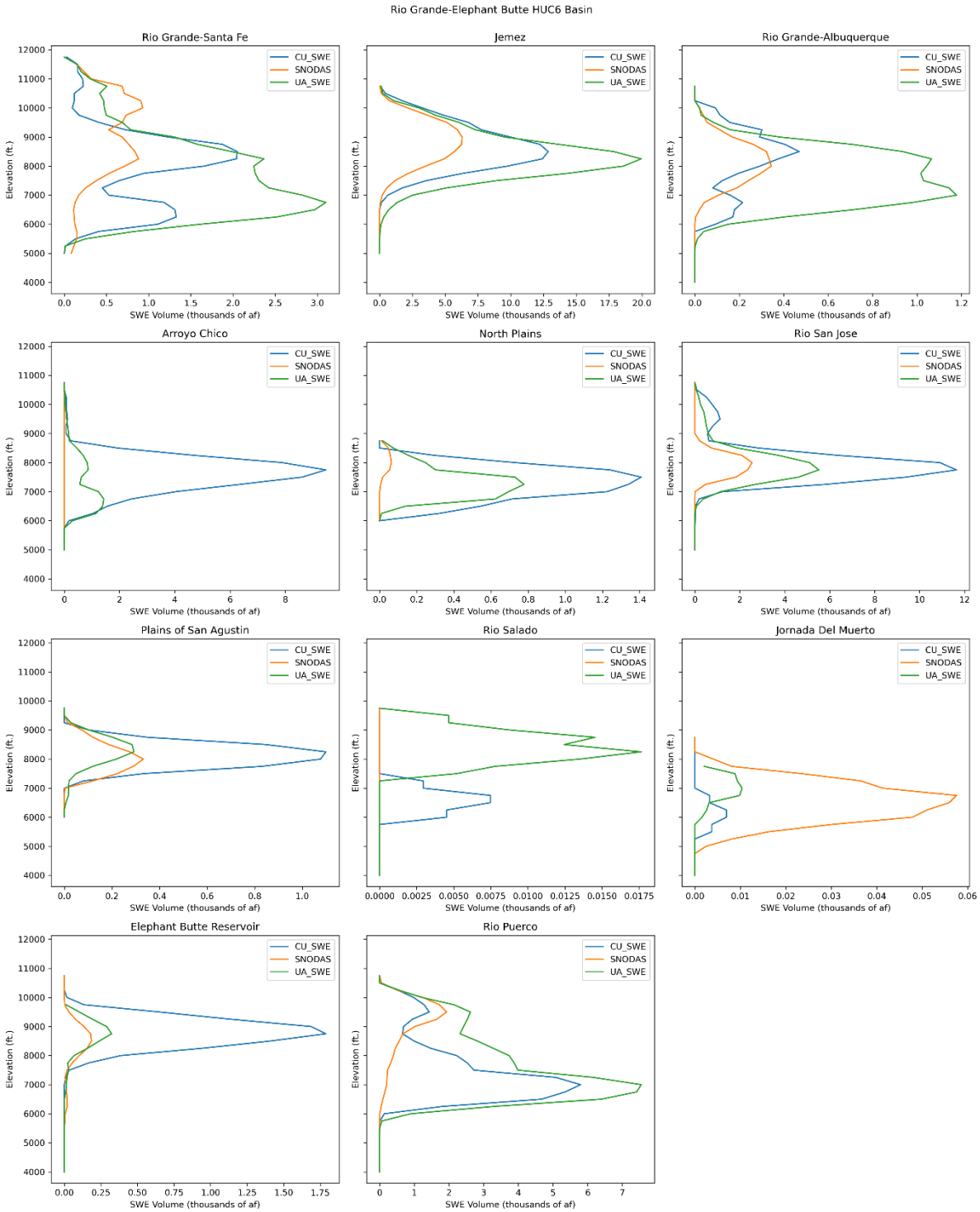

Figure 7. Estimated SWE volume (thousands of af) by subbasin and elevation band across the Rio Grande-Elephant Butte HUC6 Basin for February 1, 2026. *Elevation-distributed SWE volume for the Rio Grande-Elephant Butte HUC6 Basin and associated subbasins (Rio Grande-Santa Fe, Jemez, Arroyo Chico, Rio San Jose, Rio Puerco, Rio Grande-Albuquerque, Rio Salado, North Plains, Plains of San Agustin, Elephant Butte Reservoir, and Jornada Del Muerto), comparing three spatial SWE products (CU_SWE, SNODAS, and UA_SWE). Curves show SWE volume summarized by elevation band, illustrating differences in both magnitude and vertical distribution among products across each subbasin.*

Table 5. Estimated ensemble SWE by HUC8 subbasin and elevation band across the Rio Grande-Elephant Butte HUC6 Basin for February 1, 2026. *Shown are ensemble mean volume (af), ensemble median volume (af), ensemble minimum volume (af), and ensemble maximum volume (af). The SWE product in parenthesis in the minimum and maximum columns represents which product is reporting the value.*

HUC6 Basin	HUC8 Subbasin	Elevation Band (ft.)	Ensemble Mean Vol. (af)	Ensemble Median Vol. (af)	Ensemble Min. Vol. (af)	Ensemble Max. Vol. (af)
Rio Grande-Elephant Butte	Rio Grande-Santa Fe	5000-6000'	28	1	0 (UA_SWE)	82 (SNODAS)
		6000-7000'	947	1,106	125 (SNODAS)	1,609 (UA_SWE)
		7000-8000'	1,174	528	170 (SNODAS)	2,825 (UA_SWE)
		8000-9000'	1,541	1,659	717 (SNODAS)	2,247 (UA_SWE)
		9000-10000'	1,075	1,230	686 (SNODAS)	1,308 (UA_SWE)
		10000-11000'	499	475	94 (CU_SWE)	929 (SNODAS)
		11000-12000'	281	308	216 (CU_SWE)	319 (SNODAS)
	Jemez	5000-6000'	0	0	0	0
		6000-7000'	36	0	0 (SNODAS, CU_SWE)	108 (UA_SWE)
		7000-8000'	1,114	631	199 (SNODAS)	2,511 (UA_SWE)
		8000-9000'	10,619	9,756	3,507 (SNODAS)	18,592 (UA_SWE)
		9000-10000'	8,592	9,510	6,294 (SNODAS)	9,971 (CU_SWE)
		10000-11000'	2,811	3,010	2,154 (SNODAS)	3,271 (CU_SWE)
	Rio Grande-Albuquerque	4000-5000'	0	0	0	0
		5000-6000'	0	0	0	0
		6000-7000'	80	92	0 (SNODAS)	149 (UA_SWE)
		7000-8000'	481	159	106 (SNODAS)	1,178 (UA_SWE)
		8000-9000'	560	344	293 (CU_SWE)	1,043 (UA_SWE)
		9000-10000'	280	292	169 (SNODAS)	381 (UA_SWE)
		10000-11000'	44	21	19 (SNODAS)	93 (CU_SWE)
	Arroyo Chico	5000-6000'	0	0	0	0
		6000-7000'	154	168	0 (SNODAS)	293 (UA_SWE)
		7000-8000'	1,756	1,234	0 (SNODAS)	4,033 (CU_SWE)
		8000-9000'	2,906	830	0 (SNODAS)	7,890 (CU_SWE)
		9000-10000'	73	62	0 (SNODAS)	157 (UA_SWE)
		10000-11000'	32	25	0 (SNODAS)	71 (CU_SWE)
	North Plains	6000-7000'	0	0	0	0
		7000-8000'	640	694	0 (SNODAS)	1,225 (CU_SWE)
		8000-9000'	346	246	63 (SNODAS)	727 (CU_SWE)
	Rio San Jose	5000-6000'	0	0	0	0

Rio Grande-Elephant Butte	Rio San Jose	6000-7000'	4	0	0 (SNODAS, UA_SWE)	12 (CU_SWE)
		7000-8000'	792	1,141	10 (SNODAS)	1,224 (CU_SWE)
		8000-9000'	6,182	5,101	2,544 (SNODAS)	10,899 (CU_SWE)
		9000-10000'	385	559	0 (SNODAS)	597 (UA_SWE)
		10000-11000'	338	246	0 (SNODAS)	768 (CU_SWE)
	Plains of San Agustin	6000-7000'	0	0	0	0
		7000-8000'	7	2	0 (CU_SWE)	18 (UA_SWE)
		8000-9000'	543	332	218 (UA_SWE)	1,077 (CU_SWE)
		9000-10000'	94	103	75 (SNODAS)	104 (UA_SWE)
	Rio Salado	4000-5000'	0	0	0	0
		5000-6000'	0	0	0	0
		6000-7000'	2	0	0 (SNODAS, UA_SWE)	5 (CU_SWE)
		7000-8000'	1	0	0 (SNODAS, UA_SWE)	3 (CU_SWE)
		8000-9000'	4	0	0 (SNODAS, CU_SWE)	13 (UA_SWE)
		9000-10000'	3	0	0 (SNODAS, CU_SWE)	9 (UA_SWE)
	Jornada Del Muerto	4000-5000'	0	0	0	0
		5000-6000'	1	0	0 (UA_SWE, CU_SWE)	2 (SNODAS)
		6000-7000'	19	7	2 (UA_SWE)	48 (SNODAS)
		7000-8000'	17	10	0 (CU_SWE)	41 (SNODAS)
		8000-9000'	2	2	0 (CU_SWE)	4 (SNODAS)
	Elephant Butte Reservoir	4000-5000'	0	0	0	0
		5000-6000'	0	0	0	0
		6000-7000'	3	2	0 (UA_SWE)	6 (SNODAS)
		7000-8000'	9	13	0 (CU_SWE)	14 (UA_SWE)
		8000-9000'	185	102	66 (UA_SWE)	386 (CU_SWE)
		9000-10000'	704	289	135 (SNODAS)	1,687 (CU_SWE)
		10000-11000'	9	9	0 (SNODAS)	18 (CU_SWE)
	Rio Puerco	4000-5000'	0	0	0	0
		5000-6000'	0	0	0	0
		6000-7000'	347	136	5 (SNODAS)	901 (UA_SWE)
		7000-8000'	4,513	5,793	206 (SNODAS)	7,540 (UA_SWE)
		8000-9000'	2,118	2,224	396 (SNODAS)	3,733 (UA_SWE)
		9000-10000'	1,376	1,015	691 (CU_SWE)	2,421 (UA_SWE)
		10000-11000'	1,147	1,218	979 (CU_SWE)	1,245 (SNODAS)

About SWEET

The following information provides a brief overview of SWEET, and the SWE products currently included in the ensemble framework. For more detailed descriptions, citations, and additional information, please refer to the GitHub repository.

SWE products currently used include:

1. **SNODAS SWE**
    a. The SNOw Data Assimilation System (SNODAS) is a physically based snow model developed by NOAA's National Operational Hydrologic Remote Sensing Center and operational since 2004. SNODAS produces daily 1-km gridded estimates of SWE and related snow variables by combining modeled weather inputs with satellite, airborne, and in situ snow observations.
2. **UA/SWANN SWE**
    a. The University of Arizona/Snow Water Artificial Neural Network Modeling System (UA/SWANN) is a research SWE product that uses snow models, artificial neural networks, and assimilated in situ measurements to generate daily gridded SWE and snow depth. The dataset provides 4-km and downscaled 800-m SWE across the conterminous United States, incorporating SNOTEL and COOP observations with PRISM precipitation and temperature fields.
3. **CU SWE**
    a. The University of Colorado (CU) SWE-Fusion product is an operational dataset produced by INSTAAR that provides near–real-time SWE estimates at 500-m resolution. The approach fuses SNOTEL observations with historical SWE reanalyses and terrain variables using a generalized linear model, and scales results using satellite-derived fractional snow-covered area from Snow Today.

The following notes describe key processing methods, assumptions, and visualization conventions used in generating SWE Evaluation Tool figures, tables, and elevation plots.

Figures:

- For ensemble figures, CU SWE and UA SWE are reprojected to the SNODAS resolution (1 sq km) and averages are only taken at pixels where at least 2 of the 3 products have SWE values greater than 0 inches.
- All overview and subbasin plots set pixels with values of 0 inches to NA so that the basemap is visible.
- For individual product figures, each product is displayed at its native resolution.
- Elevation bands of 250 feet are used in the elevation figures, and SWE volume is calculated for each product's native resolution in each band.
- Difference plots display pixels where snow was present in either the current or previous report.
- Figures are available in PNG format on the GitHub repository.

Tables:

- For all tables, mean, median, and volume are calculated at each product's native resolution - zeros are not removed from mean and median calculations.
- For ensemble tables, mean and median volume are calculated using the total volumes from the 3 products - not from an average aggregate raster.
- For min. and max., if 2 products have 0 volume, both products are listed in that cell. If all 3 products have 0 volume, no product is listed for min. or max. in that row.
- Change in SWE will only be calculated starting with the second report of the water year.
- Tables are available in CSV and PDF format on the GitHub repository.
- Elevation tables presented in the report (Tables 3, 4, and 5) are combined into one table (Table 3) on the GitHub repository.

Acknowledgments

The work completed and presented in this report is funded by NASA Western Water Actions Office (WWAO), subcontract no. 1712706, as part of the *Rio Grande River Basin Needs Assessment Report*. The SWE Evaluation Tool is a collaborative effort from members at INSTAAR, University of Colorado Boulder, and the New Mexico Office of the State Engineer.

We would also like to extend our appreciation to Noah Molotch and the Mountain Hydrology Group at CU Boulder, INSTAAR, for granting our team access to the CU SWE operational SWE dataset.